OREGON WILDFIRE DAILY REPORT

Monday, March 30, 2026
Automated Fire Monitoring System
Sources: ODF · OEM ArcGIS · InciWeb · NIFC · Local Media

1. STATEWIDE YEAR-TO-DATE SUMMARY

2	0	2	162	362	0	1
LARGE FIRES TRACKED YTD (100+ acres or evac)	ACTIVE LARGE FIRES	CONTAINED FIRES	TOTAL ACRES BURNED YTD	STRUCTURES THREATENED	STRUCTURES LOST	EVAC- TRIGGERING FIRES

Criteria: fires ≥100 acres OR any fire triggering an evacuation order (any level). Last updated: 2026-03-30. Sources: ODF, OEM ArcGIS, InciWeb, NIFC, local media.

2. ACTIVE LARGE FIRES

✓ No active large fires in Oregon as of this report date.

3. CONTAINED FIRES LOG — YEAR TO DATE

Fire Name	County	Location	Discovered	Contained	Cause	Final Acres	Evac?	Peak Level	Structures Lost	Notes
Boardman Fire	Morrow	~5 miles west of Echo / near Boardman	2026-03-02	2026-03-02	Escaped controlled burn (private farmland)	150	No	N/A	0	First wildfire of the 2026 Oregon fire season. Began as a controlled burn on private farmland that became uncontrolled. Boardman Fire Rescue District, Madison Ranches, and Morrow County Sheriff responded. No injuries or structure damage. Some reports cite ~60 acres from a separate earlier incident; 150 acres cited for the March 2 grass fire near Echo.
Riverview Fire	Deschutes	Near La Pine — Riverview Drive / Timber Lane Loop / Bridge Drive area, Little Deschutes River	2026-03-17	2026-03-17	Under investigation	12	Yes	3	0	Fire reported at 2:15 PM on March 17, 2026. Spread mostly halted by 5 PM. Level 3 (Go Now) evacuation issued for Riverview Drive area; Level 1 (Be Ready) for broader area. All evacuation orders lifted by 7 PM after containment. ~40 firefighters from 7-10 agencies responded. Fire prompted concerns about an early, dangerous fire season. Investigation ongoing.

4. CURRENT EVACUATIONS & CLOSURES

✓ No active evacuation orders in effect for Oregon wildfires as of this report date.

5. COUNTY-BY-COUNTY SUMMARY

County	Total Fires (Tracked YTD)	Active	Contained	Total Acres	Evacuation Triggered	Notes
Deschutes	1	0	1	12	Yes	Fire reported at 2:15 PM on March 17, 2026. Spread mostly halted by 5 PM. Level …

County	Total Fires (Tracked YTD)	Active	Contained	Total Acres	Evacuation Triggered	Notes
Morrow	1	0	1	150	No	First wildfire of the 2026 Oregon fire season. Began as a controlled burn on pri…

6. FIRE WEATHER CONDITIONS

Fire weather conditions across Oregon on March 29, 2026 are moderate overall. A sharp upper-level trough is tracking eastward through Oregon on March 30, 2026, dropping Cascade snow levels to 1,500–3,000 feet and bringing beneficial precipitation to western and central portions of the state. Ahead of the system, elevated to critical fire weather conditions persist across Eastern Oregon with anomalously warm, dry, and breezy conditions — particularly in Morrow, Umatilla, and Wallowa counties where relative humidity has dropped below 20% and wind gusts have reached 20–30 mph. Southern Oregon saw above-normal temperatures and below-average precipitation through late March, raising early-season fire concerns, though no Red Flag Warnings are currently in effect statewide. The passage of this trough is expected to temporarily reduce fire weather risk before drier conditions return later in the week.

Region	General Conditions	High Temp	Relative Humidity	Wind	Fire Danger
Western Oregon / Willamette Valley	Low	48–58°F	55–75%	SW 12–20 mph	Very Low
Central Oregon (Deschutes/Jefferson)	Low-Moderate	44–57°F	30–45%	W 15–25 mph	Low
Eastern Oregon (Morrow/Umatilla)	High	52–67°F	14–22%	W 22–32 mph	High
NE Oregon (Wallowa/Union/Baker)	Moderate-High	48–63°F	18–28%	NW 18–28 mph	Moderate-High
Southern Oregon (Jackson/Klamath)	Moderate	53–68°F	28–45%	SW 10–20 mph	Moderate
Oregon Coast	Very Low	46–55°F	70–85%	W 15–22 mph	Very Low
Columbia Gorge / Hood River	Moderate	50–62°F	25–40%	E 20–35 mph	Moderate

7. STATEWIDE FIRE TREND — Active Fire Count & Acres Burning (2026 YTD, Actual Data)

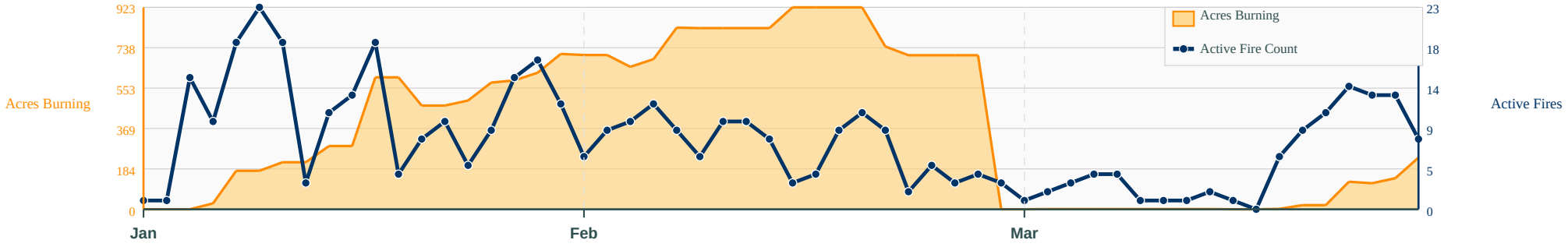

Orange shaded area = acres of active fire on each reporting date (left axis; non-cumulative — reflects containment as fires are extinguished). Navy line = count of all active Oregon wildfires on each reporting date (right axis). Data sourced from ODF field reports; new rows appended daily.

8. OREGON FIRE LOCATION MAP

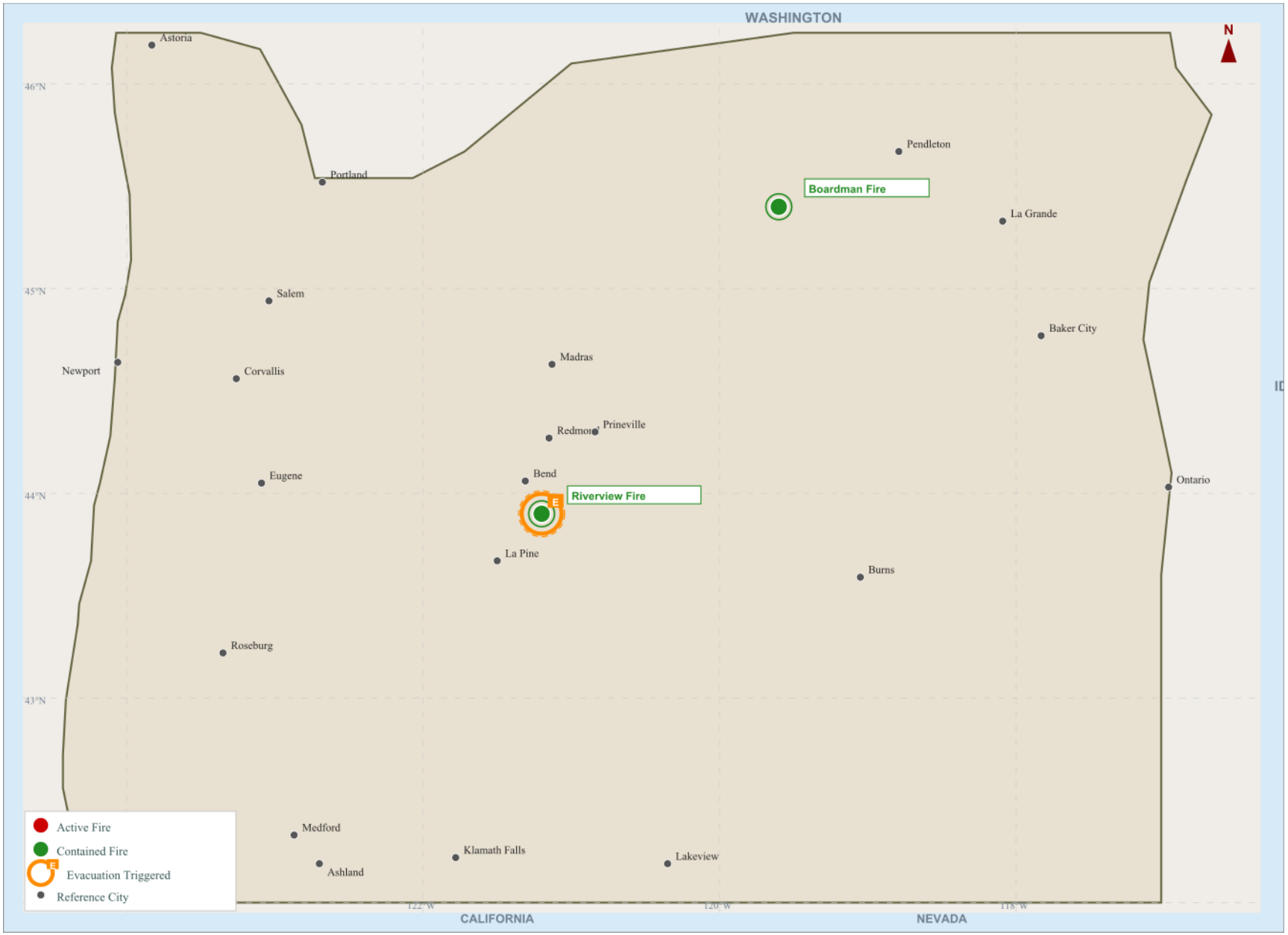

Fire locations plotted at reported coordinates or county centroid. Red marker = active; green marker = contained. Reference cities shown as gray dots.

Sources: Oregon Dept. of Forestry (ODF) · Oregon OEM ArcGIS Dashboard · InciWeb · NIFC National Interagency Fire Center · NWCC · OPB · KLCC · KTVZ · KGW · The Bulletin. Generated automatically — for life-safety decisions consult official emergency management sources.

9. DEQ AIR QUALITY INDEX (AQI) MAP

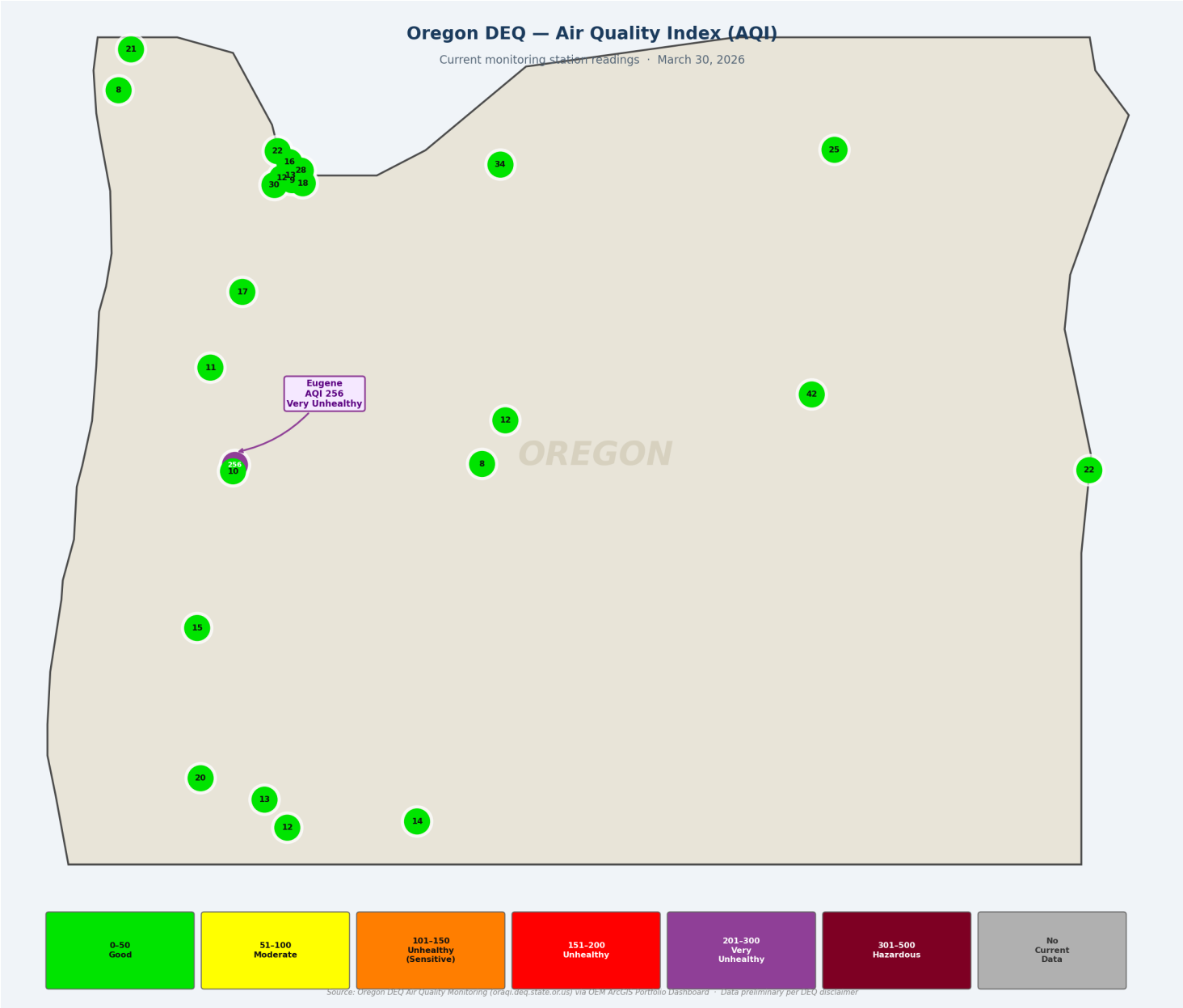

AQI station readings from Oregon DEQ Air Quality Monitoring network. All stations reporting Good (0–50) except Eugene Amazon (AQI 256 — Very Unhealthy). Source: oraqi.deq.state.or.us via OEM ArcGIS Dashboard. Data preliminary and subject to change per DEQ data disclaimer.