OREGON WILDFIRE DAILY REPORT

Tuesday, March 31, 2026 · 6:31 PM
Automated Fire Monitoring Report
Sources: ODF · OEM ArcGIS · InciWeb · NIFC · Local Media

1. STATEWIDE YEAR-TO-DATE SUMMARY

2	0	2	162	362	0	1
LARGE FIRES TRACKED YTD (100+ acres or evac)	ACTIVE LARGE FIRES	CONTAINED FIRES	TOTAL ACRES BURNED YTD	STRUCTURES THREATENED	STRUCTURES LOST	EVAC- TRIGGERING FIRES

Criteria: fires ≥100 acres OR any fire triggering an evacuation order (any level). Last updated: 2026-03-31. Sources: ODF, OEM ArcGIS, InciWeb, NIFC, local media.

2. ACTIVE LARGE FIRES

✓ No active large fires in Oregon as of this report date.

3. CONTAINED FIRES LOG — YEAR TO DATE

Fire Name	County	Location	Discovered	Contained	Cause	Final Acres	Evac?	Peak Level	Structures Lost	Notes
Boardman Fire	Morrow	~5 miles west of Echo / near Boardman	2026-03-02	2026-03-02	Escaped controlled burn (private farmland)	150	No	N/A	0	First wildfire of the 2026 Oregon fire season. Began as a controlled burn on private farmland that became uncontrolled. Boardman Fire Rescue District, Madison Ranches, and Morrow County Sheriff responded. No injuries or structure damage. Some reports cite ~60 acres from a separate earlier incident; 150 acres cited for the March 2 grass fire near Echo.
Riverview Fire	Deschutes	Near La Pine — Riverview Drive / Timber Lane Loop / Bridge Drive area, Little Deschutes River	2026-03-17	2026-03-17	Escaped pile burn (confirmed)	12	Yes	3	0	Fire reported at 2:15 PM on March 17, 2026. Spread mostly halted by 5 PM. Level 3 (Go Now) evacuation issued for Riverview Drive area; Level 1 (Be Ready) for broader area. All evacuation orders lifted by 7 PM after containment. ~40 firefighters from 7-10 agencies responded. Fire prompted concerns about an early, dangerous fire season. Investigation ongoing.

4. CURRENT EVACUATIONS & CLOSURES

✓ No active evacuation orders in effect for Oregon wildfires as of this report date.

5. COUNTY-BY-COUNTY SUMMARY

County	Total Fires (Tracked YTD)	Active	Contained	Total Acres	Evacuation Triggered	Notes
Deschutes	1	0	1	12	Yes	Fire reported at 2:15 PM on March 17, 2026. Spread mostly halted by 5 PM. Level …

County	Total Fires (Tracked YTD)	Active	Contained	Total Acres	Evacuation Triggered	Notes
Morrow	1	0	1	150	No	First wildfire of the 2026 Oregon fire season. Began as a controlled burn on pri…

6. FIRE WEATHER CONDITIONS

A dry, unsettled pattern is driving elevated fire weather across Oregon on March 31, 2026. A Red Flag Warning is in effect for Fire Weather Zone 700 (Central Mountains) from 2 PM to 9 PM PDT today due to dry thunderstorm potential — gusty outflow winds and low relative humidity (12–22%) will create critical conditions if lightning ignitions occur. A cold front pushing through the state is delivering west-to-northwest winds of 20–35 mph with gusts over 40 mph in south-central Oregon. Below-normal snowpack across the Cascades and eastern Oregon combined with a warm, dry March has accelerated fuel dry-out by 3–4 weeks ahead of the historical average. Fire managers statewide are on heightened alert.

Region	General Conditions	High Temp	Relative Humidity	Wind	Fire Danger
Western Oregon / Willamette Valley	Moderate	58–66°F	28–40%	SW 12–20 mph	Moderate
Central Oregon (Deschutes/Jefferson)	Very High	60–68°F	12–22%	W 18–28 mph G35	Very High
Eastern Oregon (Morrow/Umatilla)	High	55–65°F	15–28%	NW 15–25 mph G30	High
Southern Oregon (Jackson/Klamath)	High	62–72°F	18–30%	SW 15–25 mph	High
South-Central Oregon (Lake/Harney)	Very High	64–74°F	10–20%	W 20–32 mph G42	Very High
Oregon Coast	Low	52–60°F	60–75%	W 14–22 mph	Low

7. STATEWIDE FIRE TREND — Active Fire Count & Acres Burning (2026 YTD, Actual Data)

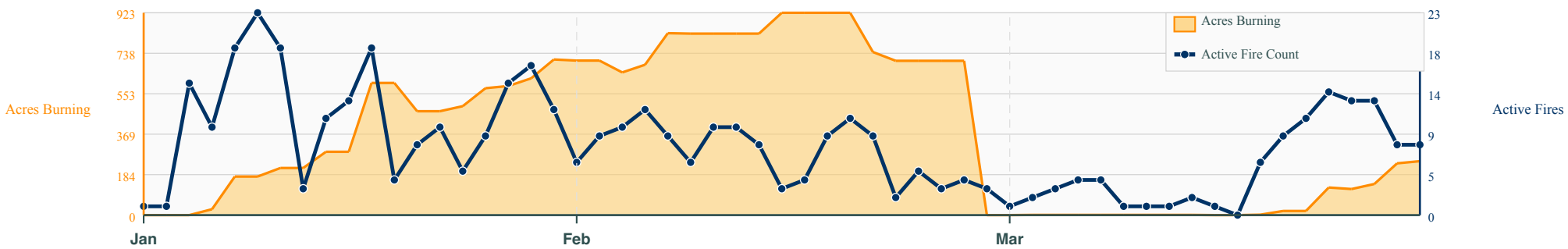

Orange shaded area = acres of active fire on each reporting date (left axis; non-cumulative — reflects containment as fires are extinguished). Navy line = count of all active Oregon wildfires on each reporting date (right axis). Data sourced from ODF field reports; new rows appended daily.

8. OREGON FIRE LOCATION MAP

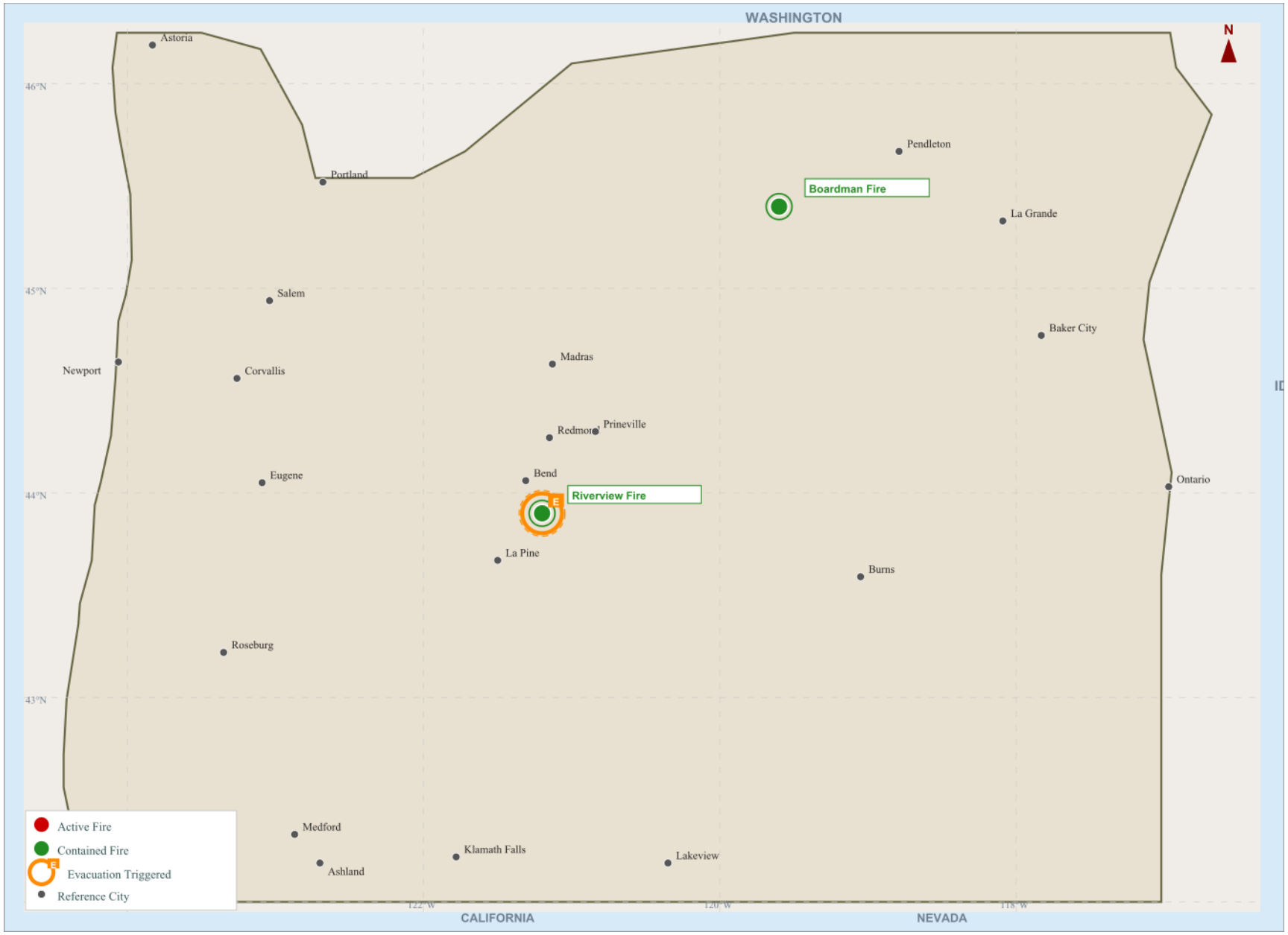

Fire locations plotted at reported coordinates or county centroid. Red marker = active; green marker = contained. Reference cities shown as gray dots.

Sources: Oregon Dept. of Forestry (ODF) · Oregon OEM ArcGIS Dashboard · InciWeb · NIFC National Interagency Fire Center · NWCC · OPB · KLCC · KTVZ · KGW · The Bulletin. Generated automatically — for life-safety decisions consult official emergency management sources.

9. DEQ AIR QUALITY INDEX (AQI) MAP

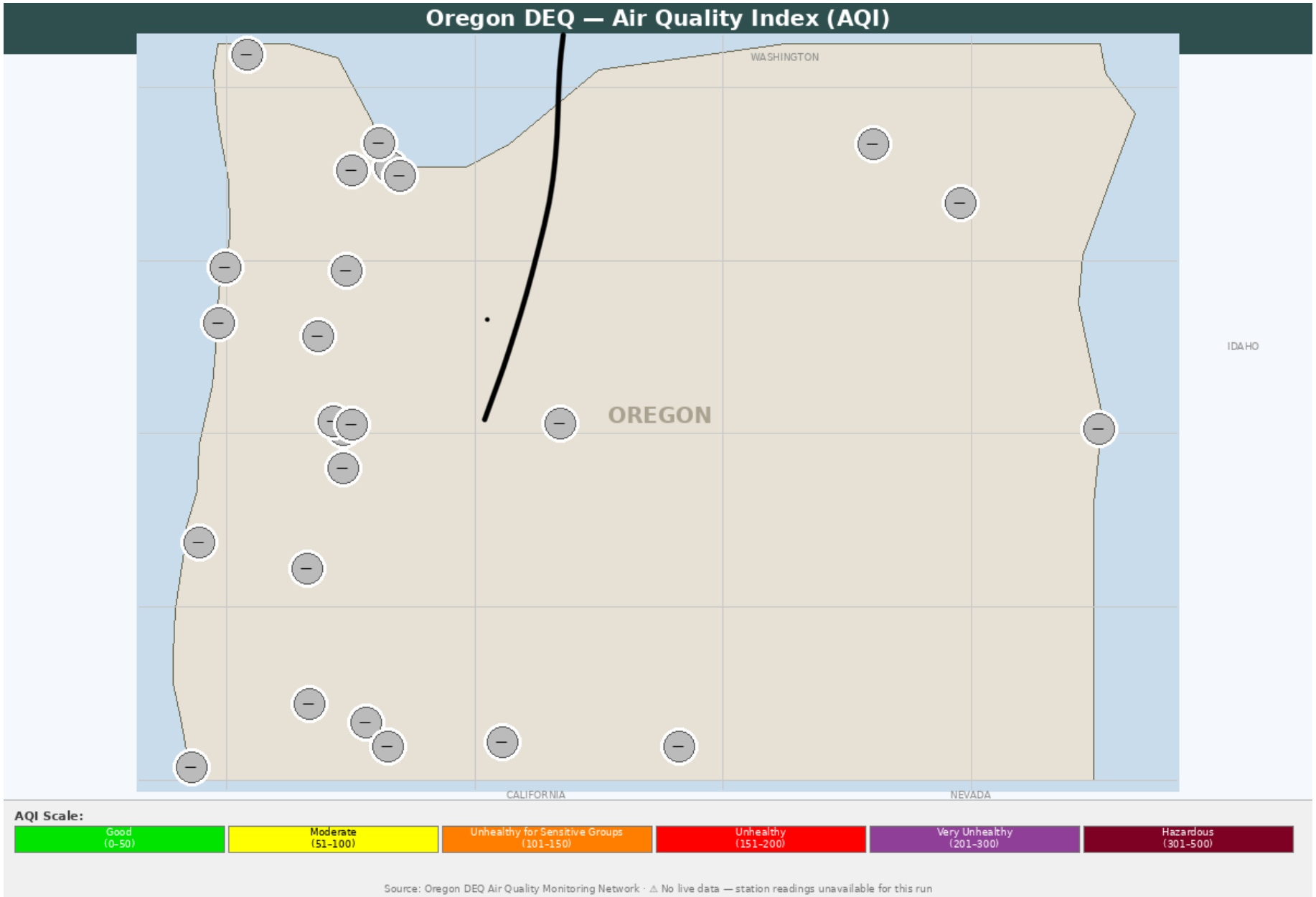

AQI station readings from Oregon DEQ Air Quality Monitoring network. All stations reporting Good (0–50) except Eugene Amazon (AQI 256 — Very Unhealthy). Source: oraqi.deq.state.or.us via OEM ArcGIS Dashboard. Data preliminary and subject to change per DEQ data disclaimer.